P2 – SLXVIC001

Part one:

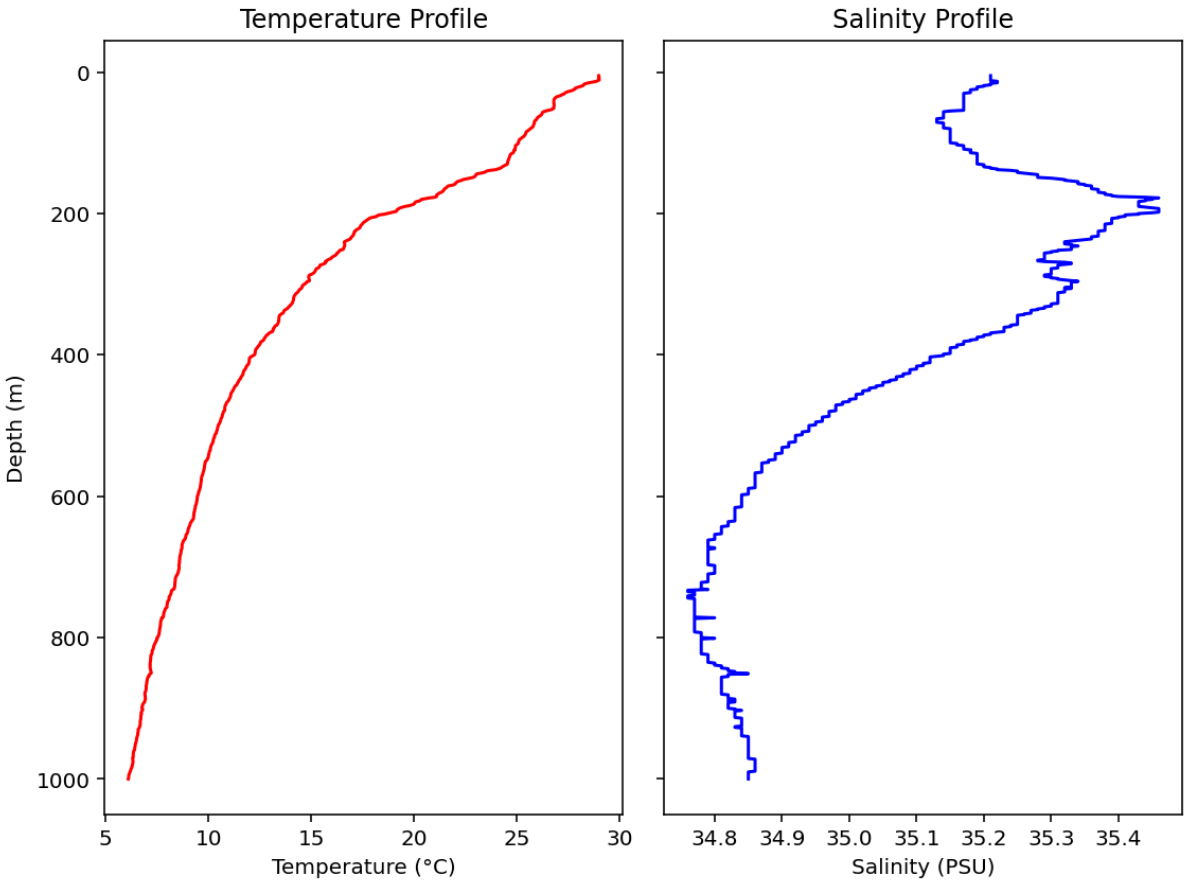

Figure 1: A two panel plot of temperature (ºC) and salinity (PSU) profiles on the same y-axis.

Part two:

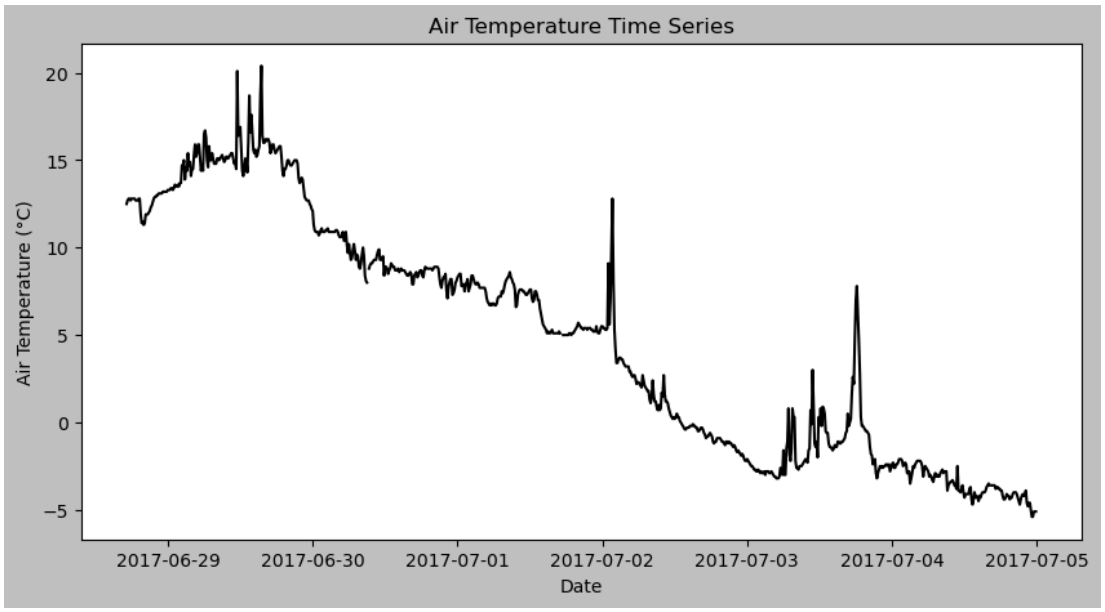

Figure 2: Timeseries plot of air temperature (ºC) in the grayscale format.

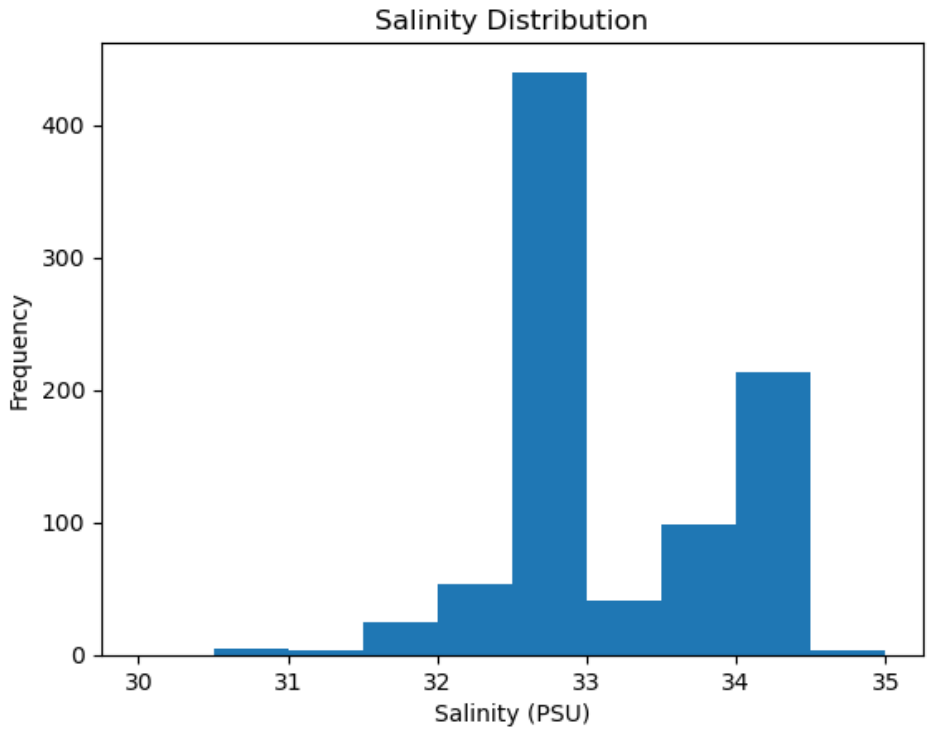

Figure 3: Histogram of salinity values in the default colour scheme

Table 1: Statistics summary table:

	Mean	Std dev	IQR
Air temperature	4.878271	6.692847	11.675000
TSG salinity	33.110553	1.140150	1.272575

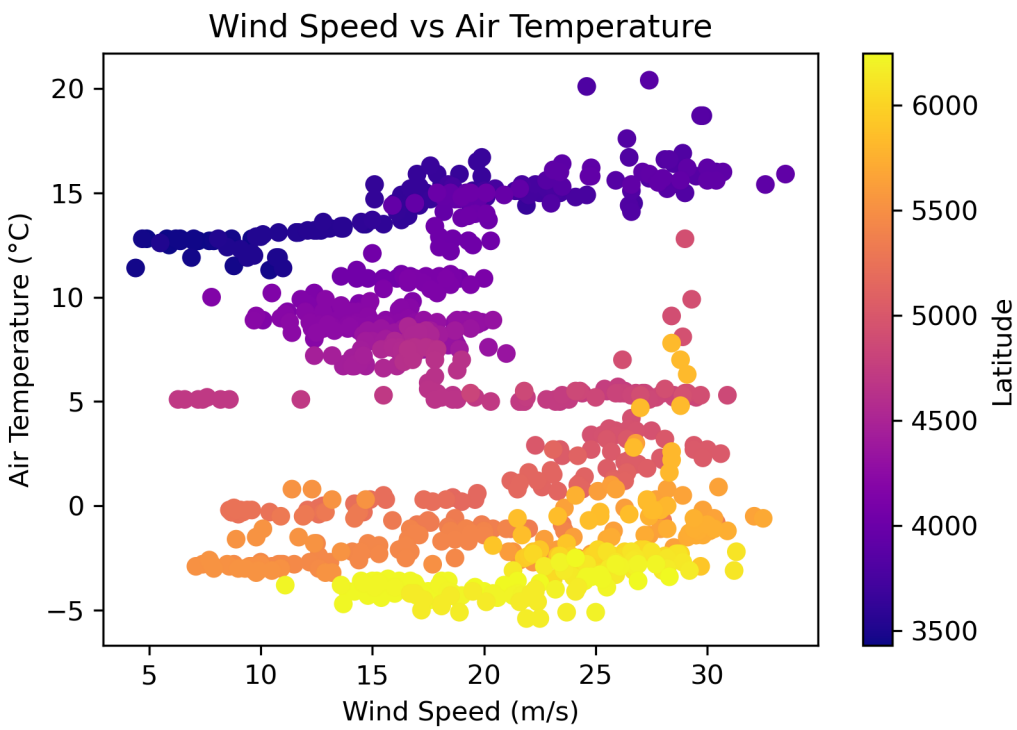

Figure 4: Scatterplot of Air temperature and Windspeed, with Latitude as a z variable. In the plasma colour scheme.